Precise Aerial Roof Measurement Report

Prepared by Kind. Consulting Services

3512 Lindee Lane, Oklahoma City, OK 73179

Kind. Consulting Services
PO Box 1306
Mustang, OK 73064

Jesse Knutson
tel. 405.868.0389
email: jesse@bekindokc.com
www.BeKindOKC.com

Measurements provided by EAGLEVIEW

Premium Report
9/23/2025

3512 Lindee Lane, Oklahoma City, OK 73179 Report: 67567814



In this 3D model, facets appear as semi-transparent to reveal overhangs.

Claim Information
Claim Number: HO-2025-226990821
Date Of Loss: 2025-05-17

PREPARED FOR

Contact:	Jesse Knutson
Company:	Kind. Consulting Services
Address:	PO Box 1306 Mustang, OK 73064
Phone:	405-868-0389

TABLE OF CONTENTS

Images 1
Length Diagram 4
Pitch Diagram 5
Area Diagram 6
Notes Diagram 7
Report Summary 8

MEASUREMENTS

Total Roof Area =4,611 sq ft
Total Roof Facets =39
Predominant Pitch =12/12
Number of Stories >1
Total Ridges/Hips =413 ft
Total Valleys =188 ft
Total Rakes =106 ft
Total Eaves =385 ft
Estimated Attic=3,554 sq ft

Measurements provided by www.eagleview.com

Certified Accurate

www.eagleview.com/Guarantee.aspx

© 2008-2025 Eagle View Technologies, Inc. and Pictometry International Corp. – All Rights Reserved – Covered by one or more of U.S. Patent Nos. 8,078,436; 8,145,578; 8,170,840; 8,209,152; 8,515,125; 8,825,454; 9,135,737; 8,670,961; 9,514,568; 8,818,770; 8,542,880; 9,244,589; 9,329,749; 9,599,466. Other Patents Pending.

IMAGES

The following aerial images show different angles of this structure for your reference.

Top View

© 2008-2025 Eagle View Technologies, Inc. and Pictometry International Corp. – All Rights Reserved – Covered by one or more of U.S. Patent Nos. 8,078,436; 8,145,578; 8,170,840; 8,209,152; 8,515,125; 8,825,454; 9,135,737; 8,670,961; 9,514,568; 8,818,770; 8,542,880; 9,244,589; 9,329,749; 9,599,466. Other Patents Pending.

IMAGES

North Side



South Side

© 2008-2025 Eagle View Technologies, Inc. and Pictometry International Corp. – All Rights Reserved – Covered by one or more of U.S. Patent Nos. 8,078,436; 8,145,578; 8,170,840; 8,209,152; 8,515,125; 8,825,454; 9,135,737; 8,670,961; 9,514,568; 8,818,770; 8,542,880; 9,244,589; 9,329,749; 9,599,466. Other Patents Pending.

IMAGES

East Side

West Side



© 2008-2025 Eagle View Technologies, Inc. and Pictometry International Corp. – All Rights Reserved – Covered by one or more of U.S. Patent Nos. 8,078,436; 8,145,578; 8,170,840; 8,209,152; 8,515,125; 8,825,454; 9,135,737; 8,670,961; 9,514,568; 8,818,770; 8,542,880; 9,244,589; 9,329,749; 9,599,466. Other Patents Pending.

LENGTH DIAGRAM

Total Line Lengths:

Ridges = 81 ft
Hips = 332 ft
Valleys = 188 ft
Rakes = 106 ft
Eaves = 385 ft
Flashing = 67 ft
Step flashing = 128 ft
Parapets = 0 ft

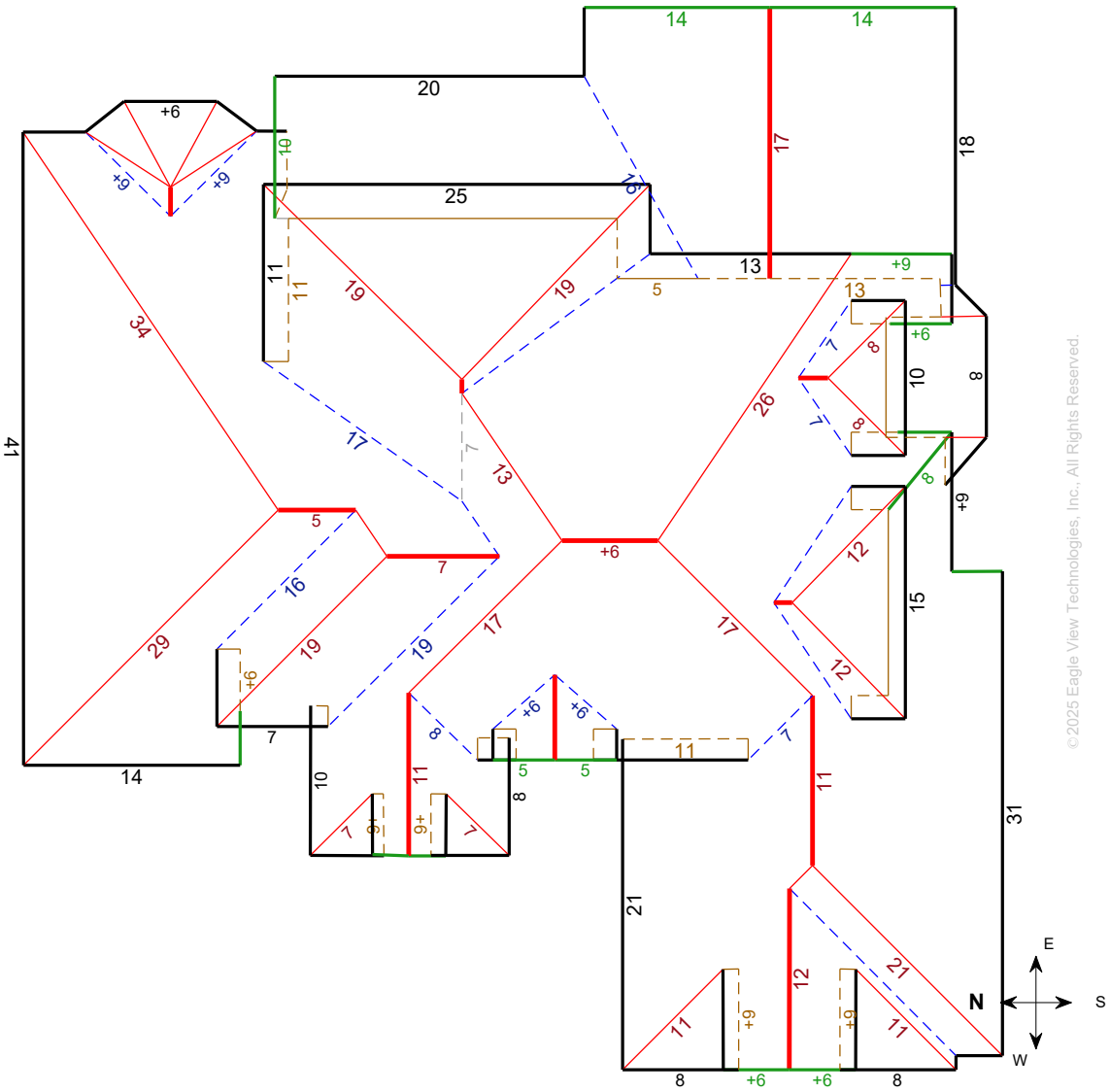

©2025 Eagle View Technologies, Inc., All Rights Reserved.

Note: This diagram contains segment lengths (rounded to the nearest whole number) over 5.0 Feet. In some cases, segment labels have been removed for readability. Plus signs preface some numbers to avoid confusion when rotated (e.g. +6 and +9).

© 2008-2025 Eagle View Technologies, Inc. and Pictometry International Corp. – All Rights Reserved – Covered by one or more of U.S. Patent Nos. 8,078,436; 8,145,578; 8,170,840; 8,209,152; 8,515,125; 8,825,454; 9,135,737; 8,670,961; 9,514,568; 8,818,770; 8,542,880; 9,244,589; 9,329,749; 9,599,466. Other Patents Pending.

PITCH DIAGRAM

Pitch values are shown in inches per foot, and arrows indicate slope direction. The predominant pitch on this roof is 12/12

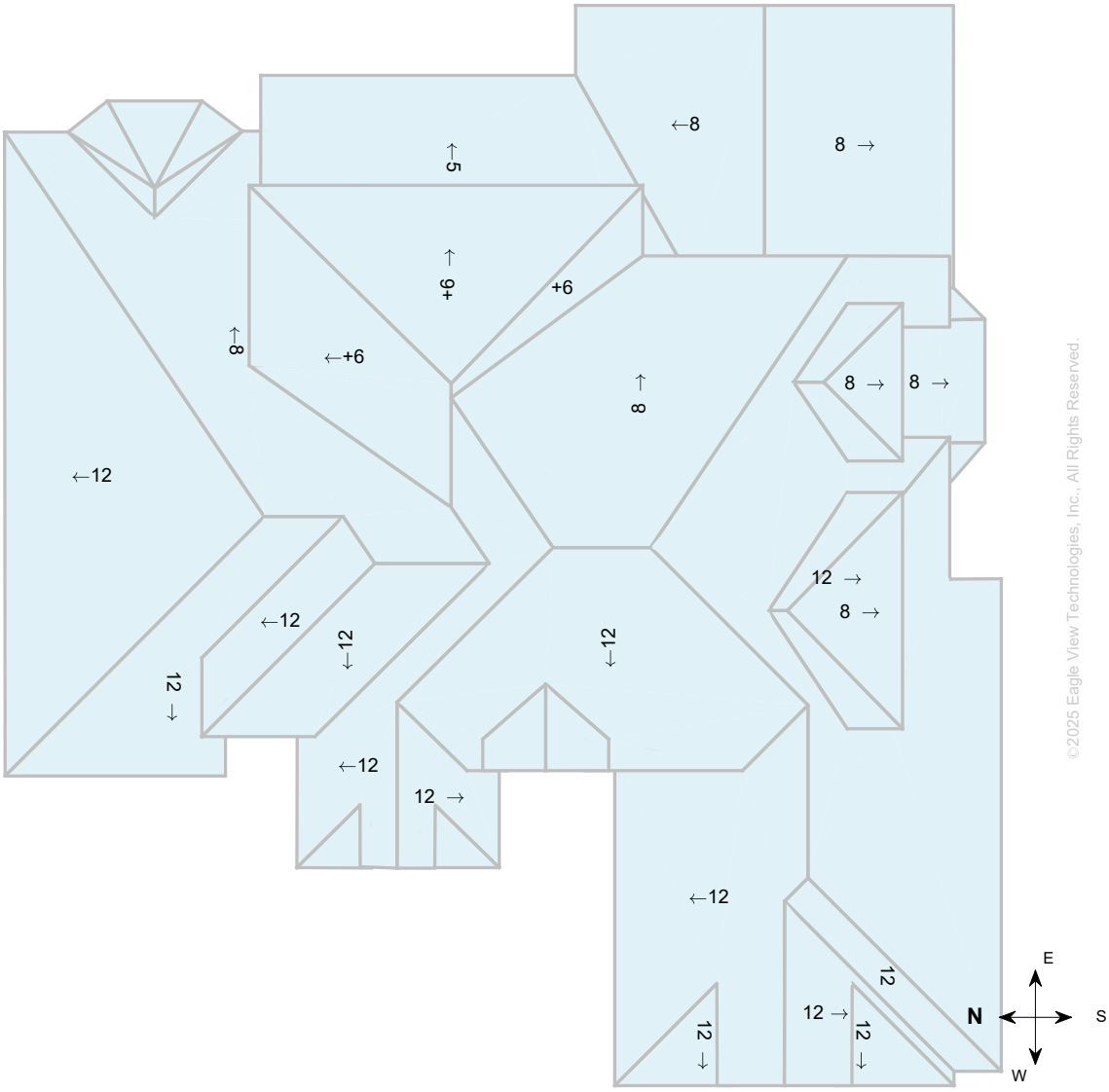

©2025 Eagle View Technologies, Inc., All Rights Reserved.

Note: This diagram contains labeled pitches for facet areas larger than 20.0 square feet. In some cases, pitch labels have been removed for readability. Blue shading indicates a pitch of 3/12 and greater.

© 2008-2025 Eagle View Technologies, Inc. and Pictometry International Corp. – All Rights Reserved – Covered by one or more of U.S. Patent Nos. 8,078,436; 8,145,578; 8,170,840; 8,209,152; 8,515,125; 8,825,454; 9,135,737; 8,670,961; 9,514,568; 8,818,770; 8,542,880; 9,244,589; 9,329,749; 9,599,466. Other Patents Pending.

AREA DIAGRAM

Total Area = 4,611 sq ft, with 39 facets.

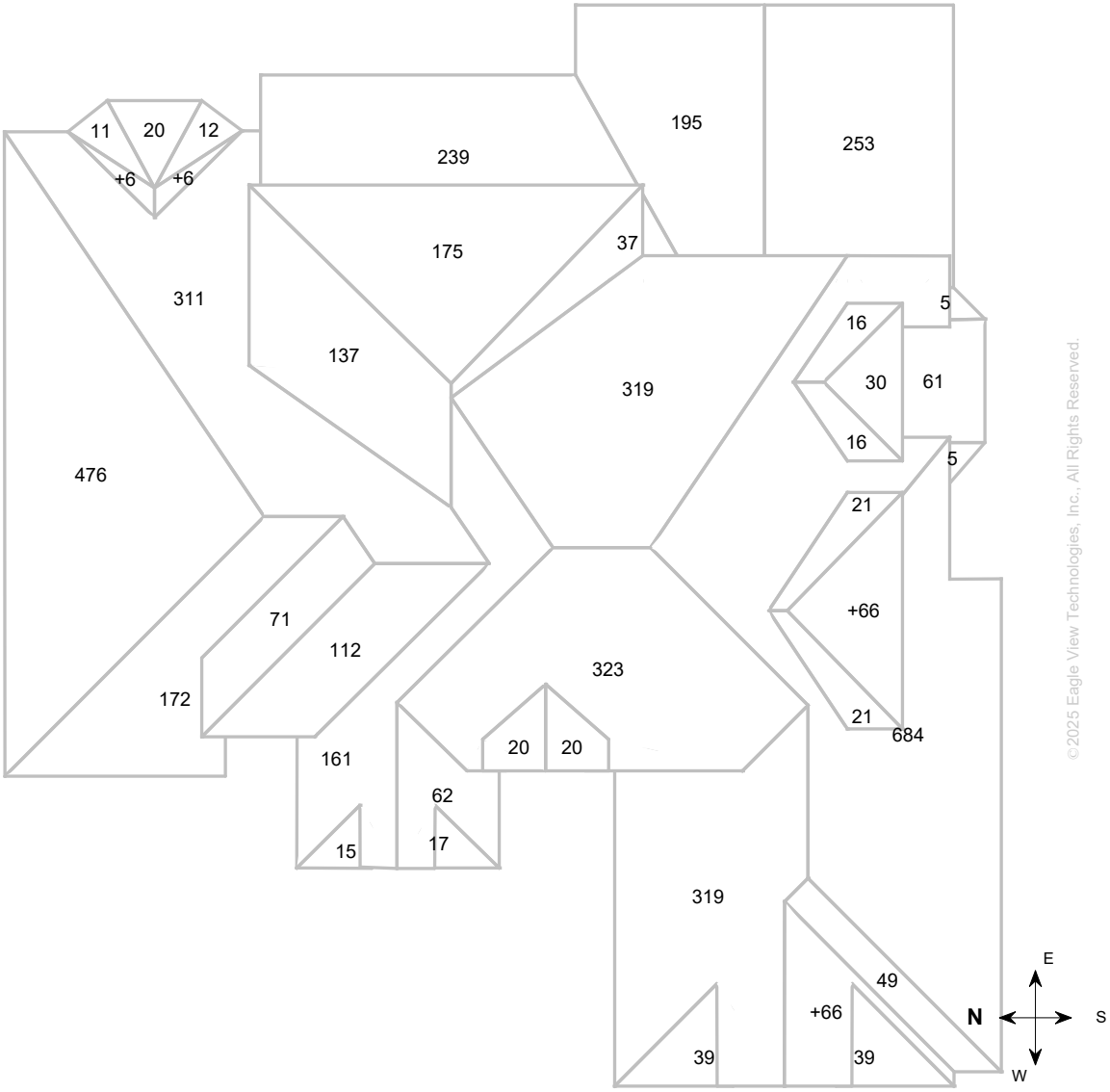

©2025 Eagle View Technologies, Inc., All Rights Reserved.

Note: This diagram shows the square feet of each roof facet (rounded to the nearest Foot). The total area in square feet, at the top of this page, is based on the non-rounded values of each roof facet (rounded to the nearest square foot after being totaled).

© 2008-2025 Eagle View Technologies, Inc. and Pictometry International Corp. – All Rights Reserved – Covered by one or more of U.S. Patent Nos. 8,078,436; 8,145,578; 8,170,840; 8,209,152; 8,515,125; 8,825,454; 9,135,737; 8,670,961; 9,514,568; 8,818,770; 8,542,880; 9,244,589; 9,329,749; 9,599,466. Other Patents Pending.

NOTES DIAGRAM

Roof facets are labeled from smallest to largest (A to Z) for easy reference.

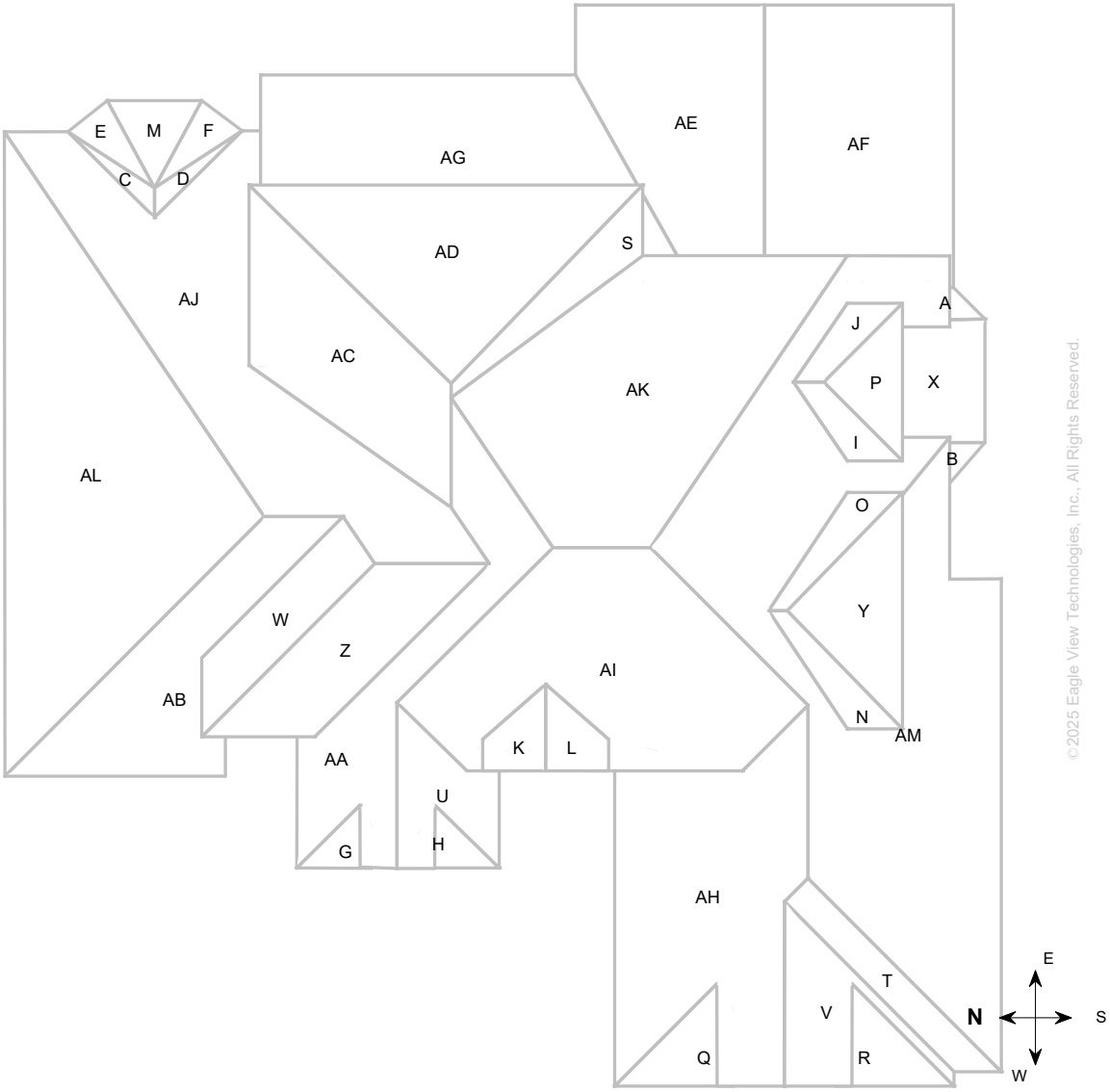

©2025 Eagle View Technologies, Inc., All Rights Reserved.

© 2008-2025 Eagle View Technologies, Inc. and Pictometry International Corp. – All Rights Reserved – Covered by one or more of U.S. Patent Nos. 8,078,436; 8,145,578; 8,170,840; 8,209,152; 8,515,125; 8,825,454; 9,135,737; 8,670,961; 9,514,568; 8,818,770; 8,542,880; 9,244,589; 9,329,749; 9,599,466. Other Patents Pending.

REPORT SUMMARY

All Structures

Areas per Pitch						
Roof Pitches	5/12	6/12	7/12	8/12	11/12	12/12
Area (sq ft)	238.6	348.4	23.1	1343.0	50.7	2606.7
% of Roof	5.2%	7.6%	0.5%	29.1%	1.1%	56.5%

The table above lists each pitch on this roof and the total area and percent (both rounded) of the roof with that pitch.

Structure Complexity		
Simple	Normal	Complex

Waste Calculation

NOTE: This waste calculation table is for asphalt shingle roofing applications. All values in table below only include roof areas of 3/12 pitch or greater.
For total measurements of all pitches, please refer to the **Lengths, Areas, and Pitches** section below.

Waste %	**0%**	10%	15%	20%	23%	**25%**	27%	30%	35%
Area (Sq ft)	**4611**	5073	5303	5534	5672	**5764**	5856	5995	6225
Squares *	**46.33**	51.00	53.33	55.66	57.00	**57.66**	58.66	60.00	62.33
	Measured					**Suggested**			

* Squares are rounded up to the 1/3 of a square

Additional materials needed for ridge, hip, and starter lengths are not included in the above table. The provided suggested waste factor is intended to serve as a guide—actual waste percentages may differ based upon several variables that EagleView does not control. These waste factor variables include, but are not limited to, individual installation techniques, crew experiences, asphalt shingle material subtleties, and potential salvage from the site. Individual results may vary from the suggested waste factor that EagleView has provided. The suggested waste is not to replace or substitute for experience or judgment as to any given replacement or repair work.

All Structures Totals

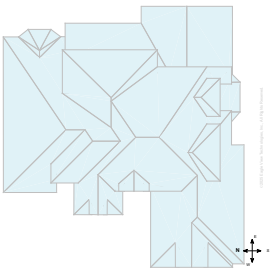

Total Roof Facets = 39

Lengths, Areas and Pitches
Ridges = 81 ft (12 Ridges)
Hips = 332 ft (26 Hips).
Valleys = 188 ft (18 Valleys)
Rakes† = 106 ft (15 Rakes)
Eaves/Starter‡ = 385 ft (45 Eaves)
Drip Edge (Eaves + Rakes) = 491 ft (60 Lengths)
Parapet Walls = 0 (0 Lengths).
Flashing = 67 ft (20 Lengths)
Step flashing = 128 ft (24 Lengths)
Predominant Pitch = 12/12
Total Area (All Pitches) = 4,611 sq ft

Property Location
Longitude = -97.6870484
Latitude = 35.4294164

Notes
This was ordered as a residential property. There were no changes to the structure in the past four years.

† Rakes are defined as roof edges that are sloped (not level).
‡ Eaves are defined as roof edges that are not sloped and level.

© 2008-2025 Eagle View Technologies, Inc. and Pictometry International Corp. – All Rights Reserved – Covered by one or more of U.S. Patent Nos. 8,078,436; 8,145,578; 8,170,840; 8,209,152; 8,515,125; 8,825,454; 9,135,737; 8,670,961; 9,514,568; 8,818,770; 8,542,880; 9,244,589; 9,329,749; 9,599,466. Other Patents Pending.

Online Maps

Online map of property
http://maps.google.com/maps?f=g&source=s_q&hl=en&geocode=&q=3512+Lindee+Lane,Oklahoma+City,OK,73179
Directions from Kind. Consulting Services to this property
http://maps.google.com/maps?f=d&source=s_d&saddr=PO+Box+1306,Mustang,OK,73064&daddr=3512+Lindee+Lane,Oklahoma+City,OK,73179

© 2008-2025 Eagle View Technologies, Inc. and Pictometry International Corp. – All Rights Reserved – Covered by one or more of U.S. Patent Nos. 8,078,436; 8,145,578; 8,170,840; 8,209,152; 8,515,125; 8,825,454; 9,135,737; 8,670,961; 9,514,568; 8,818,770; 8,542,880; 9,244,589; 9,329,749; 9,599,466. Other Patents Pending.

3512 Lindee Lane, Oklahoma City, OK 73179 Report: 67567814

IMPORTANT LEGAL NOTICE AND DISCLAIMER

Notice and Disclaimer

No Warranty: The Copyrighted Materials are provided to you "as is," and you agree to use it at your own risk.

EagleView Technologies makes no guarantees, representations or warranties of any kind, express or implied, arising by law or otherwise, including but not limited to, content, quality, accuracy, completeness, effectiveness, reliability, fitness for a particular purpose, usefulness, use or results to be obtained from the Copyrighted Materials.

Contractors agree to always conduct a preliminary site survey to verify Roof Report ordered. In the event of an error in a Report, your sole remedy will be a refund of the fees paid by you to obtain this Report.

© 2008-2025 Eagle View Technologies, Inc. and Pictometry International Corp. – All Rights Reserved – Covered by one or more of U.S. Patent Nos. 8,078,436; 8,145,578; 8,170,840; 8,209,152; 8,515,125; 8,825,454; 9,135,737; 8,670,961; 9,514,568; 8,818,770; 8,542,880; 9,244,589; 9,329,749; 9,599,466. Other Patents Pending.